YSLETA BRIDGE

Puente Internacional Zaragoza-Ysleta

BORDER CROSSING FACTS

Originally built in 1938, Ysleta Bridge was rebuilt in 1955 and then replaced with a pair of bridges in 1990. The current bridges are 804 feet long, and the first features four lanes accommodating commercial truck traffic (two southbound lanes, one standard northbound lane and one northbound FAST lane). The second is a five-lane bridge providing for passenger vehicles (two standard lanes in each direction, one northbound SENTRI lane, and one pedestrian walkway in each direction). The U.S. side is owned and operated by the City of El Paso. The Mexico side is owned by the Government of Mexico and operated by Fideicomiso de Puentes Fronterizos de Chihuahua.

LOCATION

El Paso, El Paso County, Texas, US – Ciudad Juárez, Chihuahua

ALTERNATE NAMES

Zaragoza Bridge

Ysleta-Zaragoza Bridge

Puente Zaragoza

Puente Ysleta-Zaragoza

Texas Department of Transportation

CONNECTION TO MAJOR HIGHWAYS

IN THE US: The bridge access road is near Loop 375/Cesar Chavez Border Highway/Americas Avenue which connects to I-10, part of the National Highway Freight Network.

IN MEXICO: The bridge is accessed by Avenida Waterfill and Prol. Manuel J. Clouhtier which are near Bulevar Independencia that connects with MEX 2 and continues to MEX 45.

INSPECTION FACILITIES

The Ysleta land port of entry (LPOE) is owned by the United States and is under the jurisdiction, custody, and control of GSA. It was built on 67 acres of land in 1991 and modernized in 2009.

INSPECTION LANES

4 PEDESTRIAN LANES Including Ready Lanes to read RFID-enabled identification

10 PASSENGER VEHICLE LANES Including SENTRI Lanes for pre-approved travelers and Ready Lanes to read RFID-enabled identification

8 COMMERCIAL TRUCK LANES Including FAST Lanes for trucks participating in a special clearance program

UNIFIED CARGO PROCESSING (UCP) is supported at this crossing

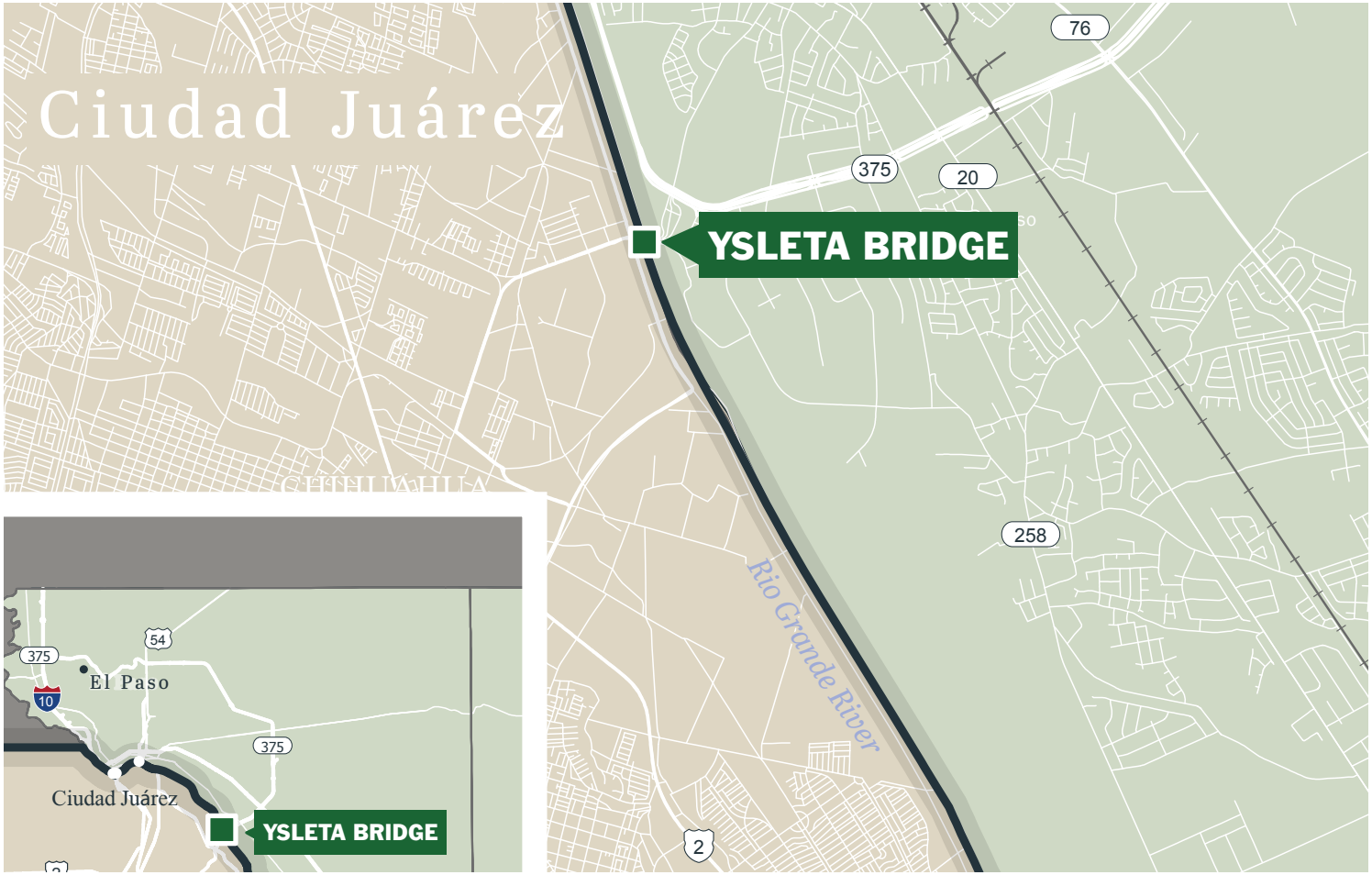

HOURS OF OPERATION

PEDESTRIANS	24/7
PASSENGER VEHICLES	24/7
COMMERCIAL	Mon–Fri 6am–Midnight Sat 6am - 2pm

Source: U.S. Customs & Border Protection, April 2025

Did you know?

In 2023, Ysleta Bridge had the most northbound commercial truck crossings in the El Paso region.

YSLETA BRIDGE TOLL RATES

as of April 2025	SOUTHBOUND		NORTHBOUND	
PEDESTRIAN OR BICYCLE		$0.50		MX$9.00
MOTORCYCLE		$3.50 $3.00 E-Fast Pass		MX$20.00
PASSENGER VEHICLE	*2 axles*	$3.50 $3.00 E-Fast Pass	*2 axles*	MX$39.00
	per additional axle	$1.75 $1.50 E-Fast Pass	*per additional axle*	MX$24.00
BUS	*2 axles, incl. RVs and Pickup Trucks over 1 ton carrying capacity*	$9.00 $8.00 E-Fast Pass	*2-4 axles*	MX$122.00
	per additional axle	$4.50 $4.00 E-Fast Pass		
COMMERCIAL TRUCK	*2-3 axles, empty, no trailer*	$5.50 $5.00 E-Fast Pass	*2-3 axles*	MX$122.00
	3+ axles, empty	$8.00 $7.50 E-Fast Pass	*4-5 axles*	MX$259.00
	2 axles, loaded	$9.00 $8.00 E-Fast Pass	*6-9 axles*	MX$411.00
	per additional axle	$4.50 $4.00 E-Fast Pass	*per additional axle*	MX$60.00

Sources: International Bridges Steering Committee, April 2025; Fideicomiso de Puentes Fronterizos de Chihuahua, April 2025

2024 NORTHBOUND CROSSINGS, BY MODE

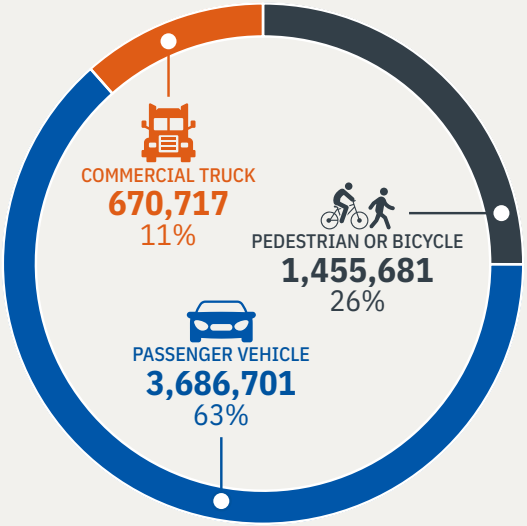

NORTHBOUND CROSSINGS, 2014-2024

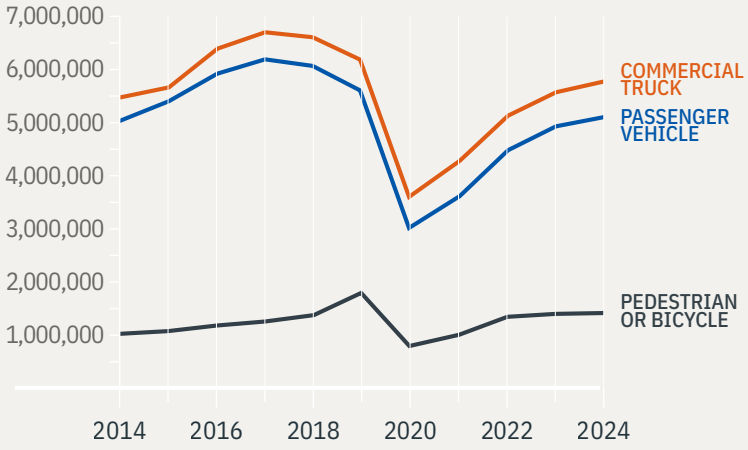

Source for all figures on this section: U.S. Customs & Border Protection, 2024

WANT TO LEARN MORE? For information on all the Texas-Mexico international border crossings, please click here or scan the QR code.